Waymos Are Coming To U.S. Roads

What does it mean?

Lorem ipsum dolor sit amet, consectetur adipiscing elit, sed do eiusmod tempor incididunt ut labore et dolore magna aliqua. Ut enim ad minim veniam, quis nostrud exercitation ullamco laboris nisi ut aliquip ex ea commodo consequat. Duis aute irure dolor in reprehenderit in voluptate velit esse cillum dolore eu fugiat nulla pariatur. Excepteur sint occaecat cupidatat non proident, sunt in culpa qui officia deserunt mollit anim id est laborum.

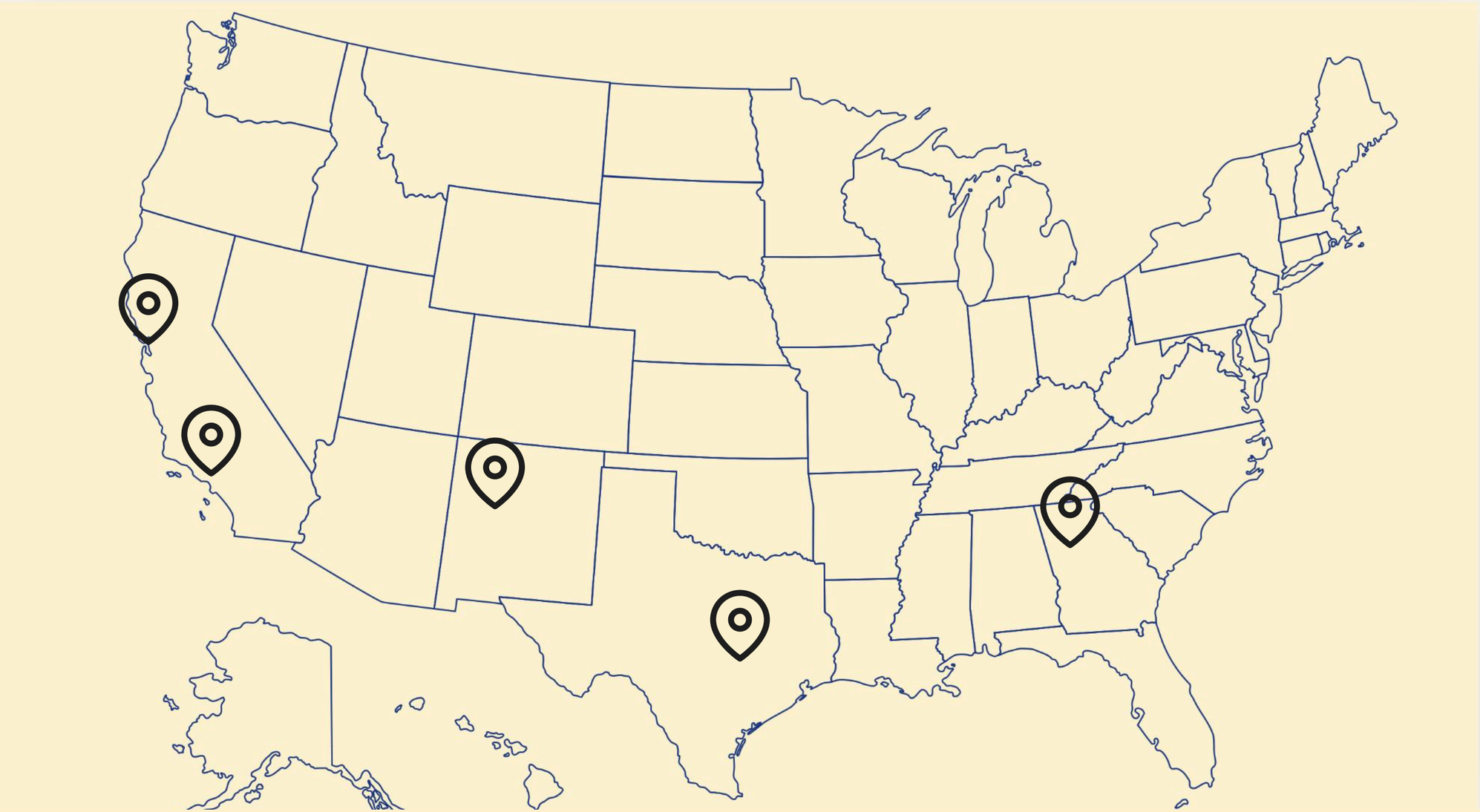

Zoom into the Bay

I think we should start by narrowing down to the Bay Area and then expand if we have time and possibility.

This is to make it more regional and also so we can explore other data sets like California-time etc.

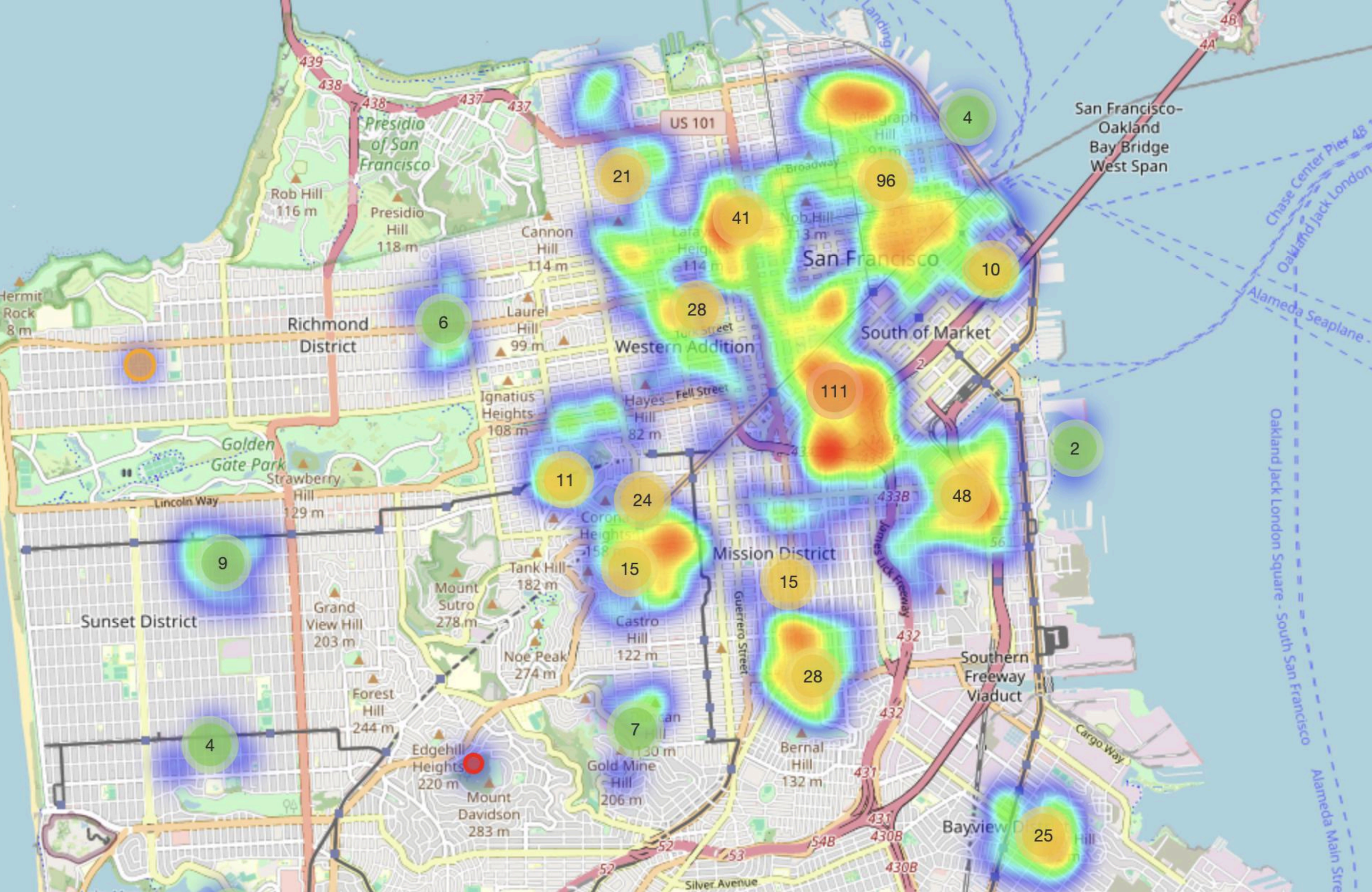
San Francisco–
Oakland
Bay Bridge
West Span
Presidio
of San
Francisco
US 101
Rob Hill
116 m
Presidio
Hill
118 m
Cannon
Hill
114 m
Laurel
Hill
99 m
Hermit
Rock
8 m
Richmond
District
Western Addition
San Francisco
South of Market
Ignatius
Heights
108 m
Hayes
Hill
82 m
Fell Street
Golden
Gate Park
Strawberry
Hill
129 m
Lincoln Way
Sunset District
Grand
View Hill
203 m
Mount
Sutro
278 m
Tank Hill
182 m
Castro
Hill
122 m
Noe Peak
274 m
Forest
Hill
244 m
Edgehill
Heights
220 m
Mount
Davidson
283 m
Gold Mine
Hill
206 m
Mission District
Guerrero Street
Bernal
Hill
132 m
Southern
Freeway
Viaduct
Cargo Way
Bayview
Silver Avenue
Chase Center Pier 48
Oakland Jack London
Alameda Seaplane
Oakland Jack London Square - South San Francisco
Alameda Main Stre
4
21
96
41
10
6
28
111
2
11
24
48
9
15
15
28
4
7
25

Looking at the Safety Statistics in SF

Genereally speaking Waymos are safer

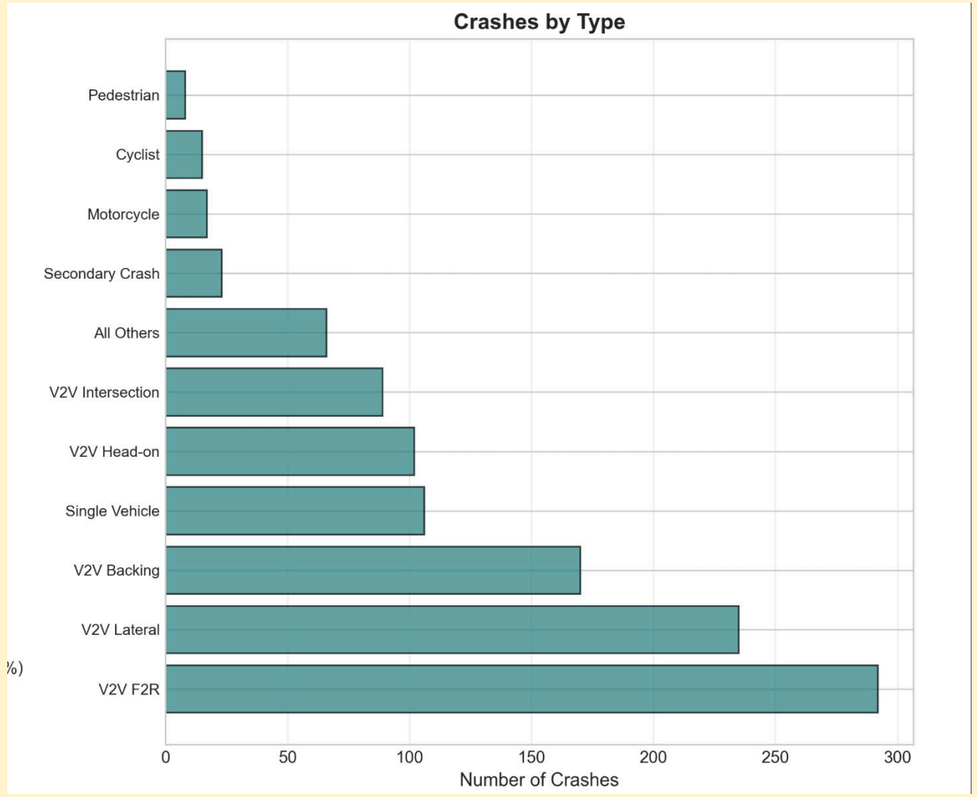

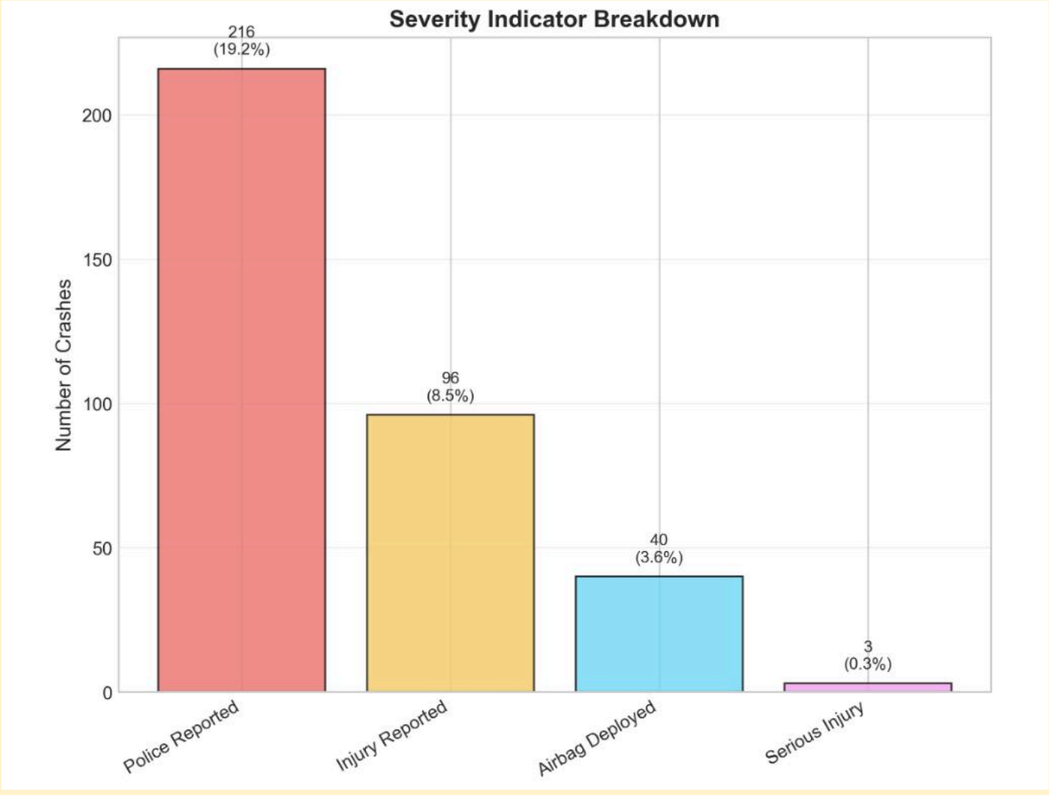

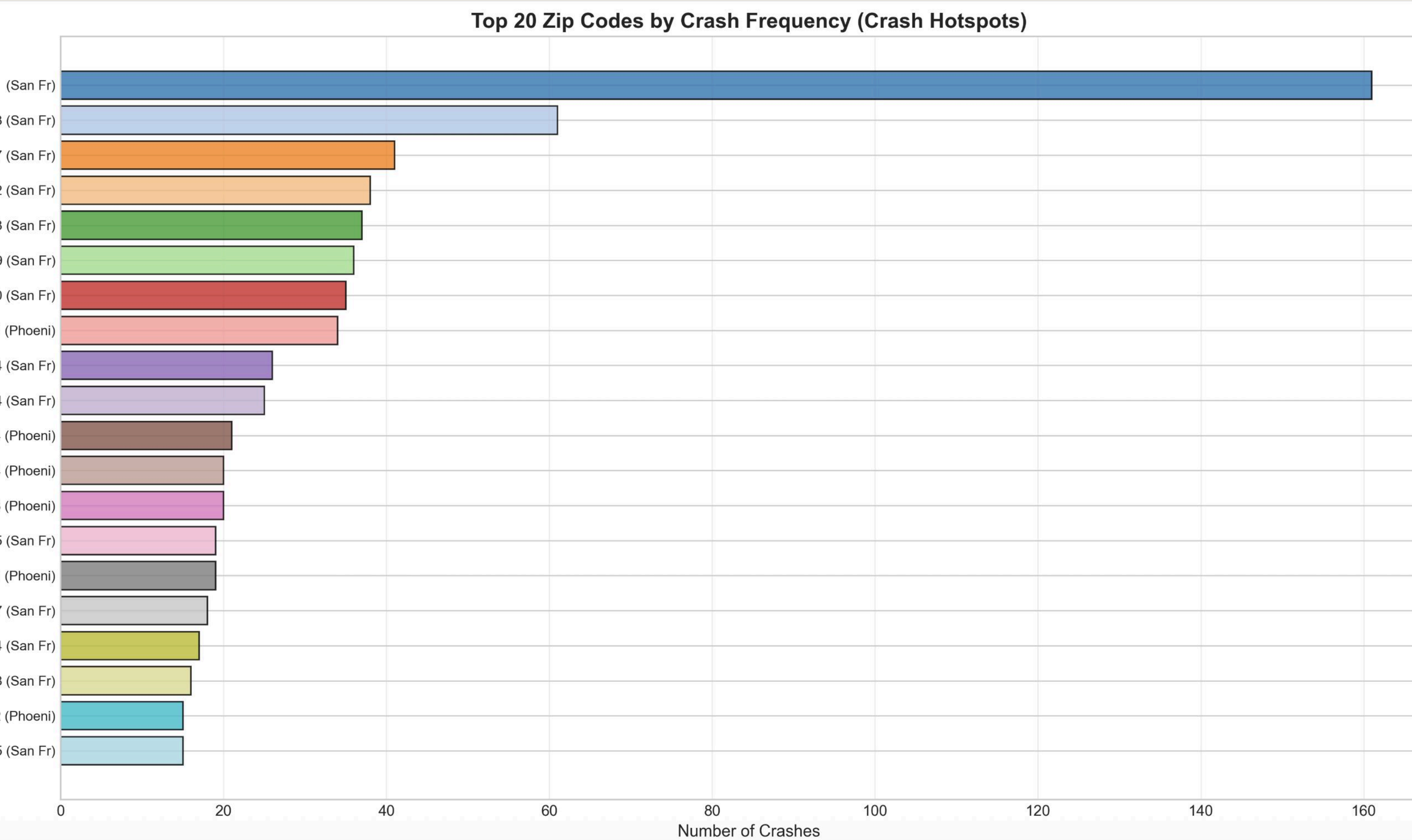
Top 20 Zip Codes by Crash Frequency (Crash Hotspots)
(San Fr)
(San Fr)
(San Fr)
(San Fr)
(San Fr)
(San Fr)
(San Fr)
(Phoeni)
(San Fr)
(San Fr)
(Phoeni)
(Phoeni)
(Phoeni)
(San Fr)
(Phoeni)
(San Fr)
(San Fr)
(San Fr)
(Phoeni)
(San Fr)
0
20
40
60
80
100
120
140
160
Number of Crashes